SERIE "C"

CUATRO CÓRDOBAS

Nº 0632159

Crita con el Nº 22078 Folio 149/52, Tomo 328 Libro de Propiedades, Asiento Nº 1. Sección de Derechos Reales.

Granada Catorce de Enero de mil novecientos ochenta y siete.

Corregido = 52 = Catorce = Vale.

El Suscrito Notario Público debidamente autorizado por la Excelentísima Corte Suprema de Justicia para cartular en un quinquenio que vence el diecisiete de Noviembre del año dos mil diez hace constar que del lote numero dos a nombre de la señora Marina Salvadora Aleman se ha desmembrado un lote con un area de 32833.0851 m² = 46570.9388 V² a favor de la señora Maria de Fatima Morales Aleman, esto segun testimonio de la Escritura Pública número 247 de mi protocolo número ocho, del folio 53/54 que el Suscrito ha autorizado hoy diez de Abril del año dos mil siete.

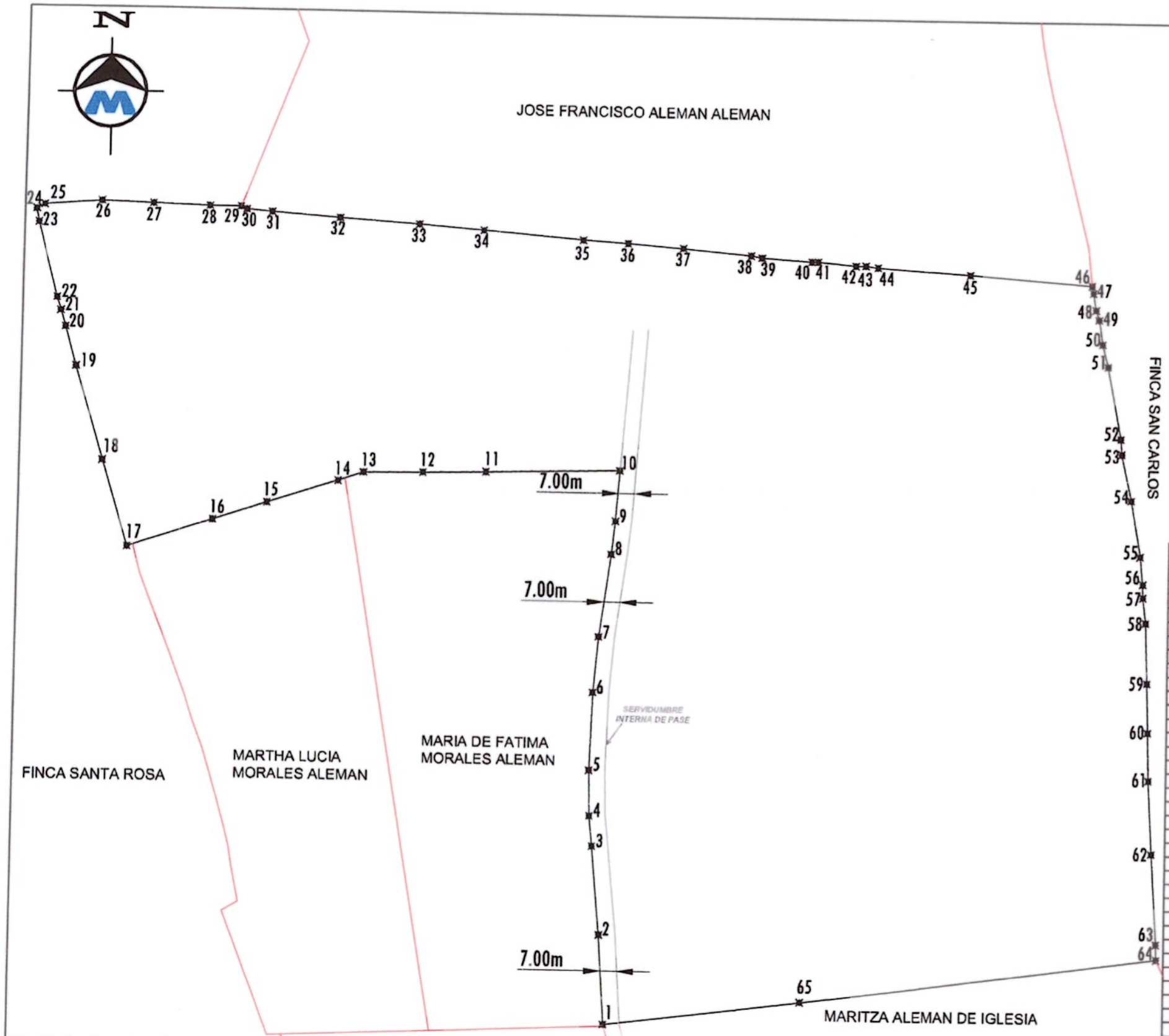


## MUNICIPIO DE GRANADA. DEPARTAMENTO DE GRANADA

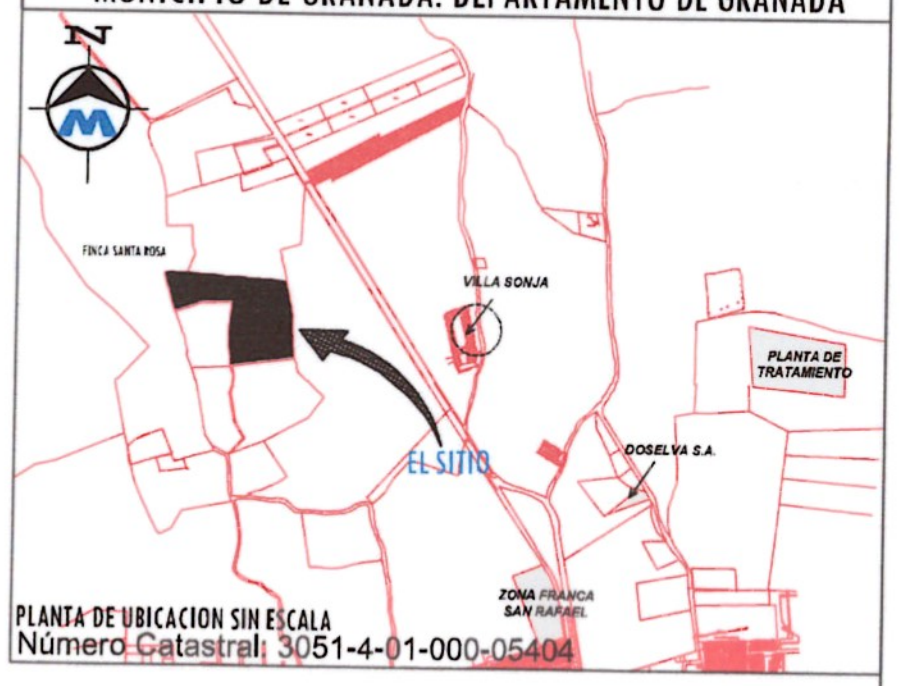


PLANTA DE UBICACION SIN ESCALA
Número Catastral: 3051-4-01-000-05404

## COORDENADAS NO VINCULADAS A LA RED GEODESICA DE NICARAGUA

### CUADRO DE CONSTRUCCION

| LADO EST | LADO PV | RUMBO | DISTANCIA | V | COORDENADAS Y | COORDENADAS X | LADO EST | LADO PV | RUMBO | DISTANCIA | V | COORDENADAS Y | COORDENADAS X |
|---|---|---|---|---|---|---|---|---|---|---|---|---|---|
| | | | | 1 | 1,322,345.6403 | 611,895.3065 | 33 | 34 | S 85°53'18.07" E | 35.797 | 34 | 1,322,775.7374 | 611,621.3642 |
| 1 | 2 | N 03°46'06.27" W | 48.691 | 2 | 1,322,394.2261 | 611,892.1083 | 34 | 35 | S 85°25'55.84" E | 54.842 | 35 | 1,322,771.3898 | 611,676.0323 |
| 2 | 3 | N 05°33'13.11" W | 46.470 | 3 | 1,322,442.4691 | 611,887.4155 | 35 | 36 | S 86°51'51.27" E | 24.667 | 36 | 1,322,770.0209 | 611,700.6621 |
| 3 | 4 | N 05°58'25.19" W | 16.405 | 4 | 1,322,458.7850 | 611,885.7082 | 36 | 37 | S 85°53'32.87" E | 30.630 | 37 | 1,322,767.8265 | 611,731.2132 |
| 4 | 5 | N 01°41'18.67" W | 24.727 | 5 | 1,322,483.5011 | 611,884.9796 | 37 | 38 | S 85°02'24.77" E | 37.762 | 38 | 1,322,764.5618 | 611,768.8336 |
| 5 | 6 | N 01°56'35.83" E | 42.413 | 6 | 1,322,525.8898 | 611,886.4178 | 38 | 39 | S 79°53'02.89" E | 6.139 | 39 | 1,322,763.4835 | 611,774.8771 |
| 6 | 7 | N 04°52'38.81" E | 30.396 | 7 | 1,322,556.1752 | 611,889.0022 | 39 | 40 | S 86°16'12.38" E | 27.101 | 40 | 1,322,761.7205 | 611,801.9210 |
| 7 | 8 | N 07°43'51.15" E | 45.199 | 8 | 1,322,600.9630 | 611,895.0823 | 40 | 41 | N 89°34'14.56" E | 3.514 | 41 | 1,322,761.7468 | 611,805.4345 |
| 8 | 9 | N 06°12'38.82" E | 18.195 | 9 | 1,322,619.0514 | 611,897.0608 | 41 | 42 | S 84°54'28.88" E | 20.966 | 42 | 1,322,759.8860 | 611,826.3176 |
| 9 | 10 | N 03°49'00.92" E | 27.568 | 10 | 1,322,646.5586 | 611,898.8880 | 42 | 43 | N 88°18'28.79" E | 5.528 | 43 | 1,322,760.0492 | 611,831.8435 |
| 10 | 11 | S 88°28'55.64" W | 73.410 | 11 | 1,322,644.6141 | 611,825.5021 | 43 | 44 | S 83°23'37.28" E | 6.779 | 44 | 1,322,759.2694 | 611,838.5772 |
| 11 | 12 | S 88°31'48.68" W | 34.799 | 12 | 1,322,643.7211 | 611,590.7143 | 44 | 45 | S 86°12'00.54" E | 51.021 | 45 | 1,322,755.8881 | 611,889.4865 |
| 12 | 13 | S 88°47'49.70" W | 32.664 | 13 | 1,322,643.0350 | 611,556.0379 | 45 | 46 | S 85°46'07.30" E | 66.977 | 46 | 1,322,750.9463 | 611,956.2810 |
| 13 | 14 | S 71°12'20.47" W | 14.467 | 14 | 1,322,638.3741 | 611,544.3419 | 46 | 47 | S 12°35'38.14" E | 4.123 | 47 | 1,322,746.9230 | 611,957.1799 |
| 14 | 15 | S 72°09'17.19" W | 40.933 | 15 | 1,322,625.7283 | 611,505.4112 | 47 | 48 | S 09°17'41.06" E | 9.367 | 48 | 1,322,737.6785 | 611,958.6928 |
| 15 | 16 | S 71°43'21.71" W | 31.220 | 16 | 1,322,615.9372 | 611,475.7664 | 48 | 49 | S 19°43'23.71" E | 5.652 | 49 | 1,322,732.3565 | 611,960.6001 |
| 16 | 17 | S 71°41'23.38" W | 49.084 | 17 | 1,322,600.5170 | 611,429.1676 | 49 | 50 | S 08°42'25.98" E | 13.334 | 50 | 1,322,719.1779 | 611,962.6187 |
| 17 | 18 | N 17°16'39.54" W | 48.979 | 18 | 1,322,647.2859 | 611,414.6207 | 50 | 51 | S 14°38'26.88" E | 12.574 | 51 | 1,322,707.0118 | 611,965.7970 |
| 18 | 19 | N 16°45'56.54" W | 53.151 | 19 | 1,322,698.1780 | 611,399.2888 | 51 | 52 | S 11°14'21.85" E | 39.990 | 52 | 1,322,667.7886 | 611,973.5915 |
| 19 | 20 | N 16°10'35.43" W | 22.129 | 20 | 1,322,719.4307 | 611,393.1237 | 52 | 53 | S 03°56'53.65" E | 8.219 | 53 | 1,322,659.5891 | 611,974.1550 |
| 20 | 21 | N 16°33'01.78" W | 9.130 | 21 | 1,322,728.1827 | 611,390.5229 | 53 | 54 | S 12°48'31.66" E | 25.747 | 54 | 1,322,634.4830 | 611,979.8630 |
| 21 | 22 | N 17°41'32.65" W | 7.505 | 22 | 1,322,735.3329 | 611,388.2420 | 54 | 55 | S 10°10'35.58" E | 30.830 | 55 | 1,322,604.1385 | 611,985.3100 |
| 22 | 23 | N 15°06'57.62" W | 42.067 | 23 | 1,322,775.9479 | 611,377.2837 | 55 | 56 | S 08°21'48.95" E | 15.211 | 56 | 1,322,589.0213 | 611,988.9956 |
| 23 | 24 | N 10°42'38.73" W | 7.321 | 24 | 1,322,783.1409 | 611,375.9232 | 56 | 57 | S 01°07'04.02" E | 7.116 | 57 | 1,322,581.9066 | 611,987.1346 |
| 24 | 25 | N 82°27'56.05" E | 5.062 | 25 | 1,322,785.4765 | 611,380.4034 | 57 | 58 | S 07°01'14.30" E | 13.869 | 58 | 1,322,568.1413 | 611,988.8298 |
| 25 | 26 | N 85°15'34.60" E | 30.611 | 26 | 1,322,788.0063 | 611,410.9101 | 58 | 59 | S 01°57'15.32" E | 32.510 | 59 | 1,322,535.3500 | 611,989.9487 |
| 26 | 27 | S 88°01'23.56" E | 28.136 | 27 | 1,322,787.0357 | 611,439.0295 | 59 | 60 | S 01°31'53.35" E | 26.635 | 60 | 1,322,508.7241 | 611,990.6606 |
| 27 | 28 | S 88°19'20.95" E | 31.135 | 28 | 1,322,786.1243 | 611,470.1514 | 60 | 61 | S 01°47'47.55" E | 26.287 | 61 | 1,322,482.4502 | 611,991.4847 |
| 28 | 29 | N 89°53'08.29" E | 17.105 | 29 | 1,322,786.1584 | 611,487.2565 | 61 | 62 | S 03°05'13.76" E | 39.575 | 62 | 1,322,442.6334 | 611,993.6321 |
| 29 | 30 | S 67°58'22.43" E | 3.486 | 30 | 1,322,784.8508 | 611,490.4886 | 62 | 63 | S 03°46'08.02" E | 49.110 | 63 | 1,322,393.6294 | 611,996.8603 |
| 30 | 31 | S 84°41'19.27" E | 14.371 | 31 | 1,322,783.5206 | 611,504.7978 | 63 | 64 | S 02°08'40.67" E | 8.381 | 64 | 1,322,385.2544 | 611,997.1739 |
| 31 | 32 | S 85°15'18.07" E | 37.354 | 32 | 1,322,781.0607 | 611,542.0724 | 64 | 65 | S 82°23'09.73" W | 198.093 | 65 | 1,322,359.2725 | 611,802.8099 |
| 32 | 33 | S 85°21'19.31" E | 43.676 | 33 | 1,322,778.3044 | 611,585.6596 | 65 | 1 | S 82°46'22.99" W | 108.364 | 1 | 1,322,345.6403 | 611,895.3065 |

**SUPERFICIE = 159,396.834 m2 = 15.94 Ha = 22.61 Mnz**

El objeto de este plano es para un proceso de Declaratoria de Herederos

| | | |
|---|---|---|
| Objeto: Verificación de área | Número Catastral: 3051-4-01-000-05404 | FIRMA: |
| Propietario: Marina Salvadora Aleman Aleman (q.e.p.d.) Certificado de defunción: Tomo: 10005; Folio: 180; Partida: 180. Conocida registralmente como Marina Salvadora del Socorro Aleman Aleman de Morales | Ubicación: Cmca El Fortin, Costado Este de Hacienda Santa Rosa. Municipio de Granada. Dpto Granada. | Ejecuta: Ing.Bosco Javier Morgan<br>Lic. Catastral: BMM100426<br>Cel: 8883-7568 Email: ingmorgan73@gmail.com<br>www.morganconstrucciones.com |
| Solicitantes: Indicado | Área: 159,396.834 m2 = 15.94 Ha = 22.61 Mnz Escala: 1: 3,300 | Fecha: 06 de Febrero del 2026 |

Solicitantes:
Maria de Fatima Morales Aleman; Ced: 201-230269-0000J
Martha Lucia Morales Aleman; Ced: 201-030570-0007M

Objeto: Verificación de área
Número Catastral: 3051-4-01-000-05404

# COORDENADAS NO VINCULADAS A LA RED GEODESICA DE NICARAGUA

## CUADRO DE CONSTRUCCION

| LADO EST | LADO PV | RUMBO | DISTANCIA | V | COORDENADAS Y | COORDENADAS X |
|---|---|---|---|---|---|---|
| | | | | 1 | 1,322,345.6403 | 611,695.3065 |
| 1 | 2 | N 03°46'06.27" W | 48.691 | 2 | 1,322,394.2261 | 611,692.1063 |
| 2 | 3 | N 05°33'13.11" W | 48.470 | 3 | 1,322,442.4691 | 611,687.4155 |
| 3 | 4 | N 05°58'25.19" W | 16.405 | 4 | 1,322,458.7850 | 611,685.7082 |
| 4 | 5 | N 01°41'18.67" W | 24.727 | 5 | 1,322,483.5011 | 611,684.9796 |
| 5 | 6 | N 01°56'35.83" E | 42.413 | 6 | 1,322,525.8896 | 611,686.4178 |
| 6 | 7 | N 04°52'38.81" E | 30.396 | 7 | 1,322,556.1752 | 611,689.0022 |
| 7 | 8 | N 07°43'51.15" E | 45.199 | 8 | 1,322,600.9630 | 611,695.0823 |
| 8 | 9 | N 06°12'38.82" E | 18.195 | 9 | 1,322,619.0514 | 611,697.0508 |
| 9 | 10 | N 03°49'00.92" E | 27.568 | 10 | 1,322,646.5586 | 611,698.8860 |
| 10 | 11 | S 88°28'55.64" W | 73.410 | 11 | 1,322,644.6141 | 611,625.5021 |
| 11 | 12 | S 88°31'46.66" W | 34.799 | 12 | 1,322,643.7211 | 611,590.7143 |
| 12 | 13 | S 88°47'49.70" W | 32.684 | 13 | 1,322,643.0350 | 611,558.0379 |
| 13 | 14 | S 71°12'20.47" W | 14.467 | 14 | 1,322,638.3741 | 611,544.3419 |
| 14 | 15 | S 72°00'17.19" W | 40.933 | 15 | 1,322,625.7263 | 611,505.4112 |
| 15 | 16 | S 71°43'21.71" W | 31.220 | 16 | 1,322,615.9372 | 611,475.7664 |
| 16 | 17 | S 71°41'23.38" W | 49.084 | 17 | 1,322,600.5170 | 611,429.1676 |
| 17 | 18 | N 17°16'39.54" W | 48.979 | 18 | 1,322,647.2859 | 611,414.6207 |
| 18 | 19 | N 16°45'56.54" W | 53.151 | 19 | 1,322,698.1780 | 611,399.2888 |
| 19 | 20 | N 16°10'35.43" W | 22.129 | 20 | 1,322,719.4307 | 611,393.1237 |
| 20 | 21 | N 16°33'01.78" W | 9.130 | 21 | 1,322,728.1827 | 611,390.5229 |
| 21 | 22 | N 17°41'32.65" W | 7.505 | 22 | 1,322,735.3329 | 611,388.2420 |
| 22 | 23 | N 15°05'57.62" W | 42.067 | 23 | 1,322,775.9479 | 611,377.2837 |
| 23 | 24 | N 10°42'38.73" W | 7.321 | 24 | 1,322,783.1409 | 611,375.9232 |
| 24 | 25 | N 62°27'56.05" E | 5.052 | 25 | 1,322,785.4765 | 611,380.4034 |
| 25 | 26 | N 85°15'34.60" E | 30.811 | 26 | 1,322,788.0063 | 611,410.9101 |
| 26 | 27 | S 88°01'23.56" E | 28.136 | 27 | 1,322,787.0357 | 611,439.0295 |
| 27 | 28 | S 88°19'20.95" E | 31.135 | 28 | 1,322,786.1243 | 611,470.1514 |
| 28 | 29 | N 89°53'08.29" E | 17.105 | 29 | 1,322,786.1584 | 611,487.2566 |
| 29 | 30 | S 67°58'22.43" E | 3.486 | 30 | 1,322,784.8508 | 611,490.4886 |
| 30 | 31 | S 84°41'19.27" E | 14.371 | 31 | 1,322,783.5206 | 611,504.7978 |
| 31 | 32 | S 86°15'18.07" E | 37.354 | 32 | 1,322,781.0807 | 611,542.0724 |
| 32 | 33 | S 86°21'19.31" E | 43.676 | 33 | 1,322,778.3044 | 611,585.6596 |

| LADO EST | LADO PV | RUMBO | DISTANCIA | V | COORDENADAS Y | COORDENADAS X |
|---|---|---|---|---|---|---|
| 33 | 34 | S 85°53'16.07" E | 35.797 | 34 | 1,322,775.7374 | 611,621.3642 |
| 34 | 35 | S 85°25'55.84" E | 54.842 | 35 | 1,322,771.3698 | 611,676.0323 |
| 35 | 36 | S 86°51'51.27" E | 24.667 | 36 | 1,322,770.0205 | 611,700.6821 |
| 36 | 37 | S 85°53'32.87" E | 30.630 | 37 | 1,322,767.8265 | 611,731.2132 |
| 37 | 38 | S 85°02'24.77" E | 37.762 | 38 | 1,322,764.5618 | 611,768.8336 |
| 38 | 39 | S 79°53'02.89" E | 6.139 | 39 | 1,322,763.4835 | 611,774.8771 |
| 39 | 40 | S 86°16'12.38" E | 27.101 | 40 | 1,322,761.7205 | 611,801.9210 |
| 40 | 41 | N 89°34'14.56" E | 3.514 | 41 | 1,322,761.7468 | 611,805.4345 |
| 41 | 42 | S 84°54'28.88" E | 20.966 | 42 | 1,322,759.8880 | 611,826.3176 |
| 42 | 43 | N 88°18'28.79" E | 5.528 | 43 | 1,322,760.0492 | 611,831.8435 |
| 43 | 44 | S 83°23'37.28" E | 6.779 | 44 | 1,322,759.2694 | 611,838.5772 |
| 44 | 45 | S 86°12'00.54" E | 51.021 | 45 | 1,322,755.8881 | 611,889.4865 |
| 45 | 46 | S 85°46'07.30" E | 68.977 | 46 | 1,322,750.9463 | 611,958.2810 |
| 46 | 47 | S 12°35'36.14" E | 4.123 | 47 | 1,322,746.9230 | 611,957.1799 |
| 47 | 48 | S 09°17'41.05" E | 9.367 | 48 | 1,322,737.6785 | 611,958.6928 |
| 48 | 49 | S 19°43'23.71" E | 5.652 | 49 | 1,322,732.3585 | 611,960.6001 |
| 49 | 50 | S 08°42'25.98" E | 13.334 | 50 | 1,322,719.1779 | 611,962.6187 |
| 50 | 51 | S 14°38'26.88" E | 12.574 | 51 | 1,322,707.0118 | 611,965.7970 |
| 51 | 52 | S 11°14'21.85" E | 39.990 | 52 | 1,322,667.7886 | 611,973.5915 |
| 52 | 53 | S 03°55'53.65" E | 8.219 | 53 | 1,322,659.5891 | 611,974.1550 |
| 53 | 54 | S 12°48'31.66" E | 25.747 | 54 | 1,322,634.4830 | 611,979.8630 |
| 54 | 55 | S 10°10'35.58" E | 30.830 | 55 | 1,322,604.1385 | 611,985.3100 |
| 55 | 56 | S 06°21'46.95" E | 15.211 | 56 | 1,322,589.0213 | 611,986.9958 |
| 56 | 57 | S 01°07'04.02" E | 7.116 | 57 | 1,322,581.9066 | 611,987.1346 |
| 57 | 58 | S 07°01'14.30" E | 13.869 | 58 | 1,322,568.1413 | 611,988.8298 |
| 58 | 59 | S 01°57'15.32" E | 32.810 | 59 | 1,322,535.3500 | 611,989.9487 |
| 59 | 60 | S 01°31'53.35" E | 28.835 | 60 | 1,322,508.7241 | 611,990.6606 |
| 60 | 61 | S 01°47'47.55" E | 28.287 | 61 | 1,322,482.4502 | 611,991.4847 |
| 61 | 62 | S 03°05'13.76" E | 39.875 | 62 | 1,322,442.6334 | 611,993.6321 |
| 62 | 63 | S 03°46'08.02" E | 49.110 | 63 | 1,322,393.6294 | 611,996.6603 |
| 63 | 64 | S 02°08'40.67" E | 8.381 | 64 | 1,322,385.2544 | 611,997.1739 |
| 64 | 65 | S 82°23'09.73" W | 196.093 | 65 | 1,322,359.2725 | 611,802.8099 |
| 65 | 1 | S 82°46'22.99" W | 108.364 | 1 | 1,322,345.6403 | 611,695.3065 |

**SUPERFICIE = 159,396.834 m2 = 15.94 Ha = 22.61 Mnz**

Ejecuta: Ing.Bosco Javier Morgan
Lic. Catastral: BMM100426
Cel: 8883-7568 Email: ingmorgan73@gmail.com
www.morganconstrucciones.com

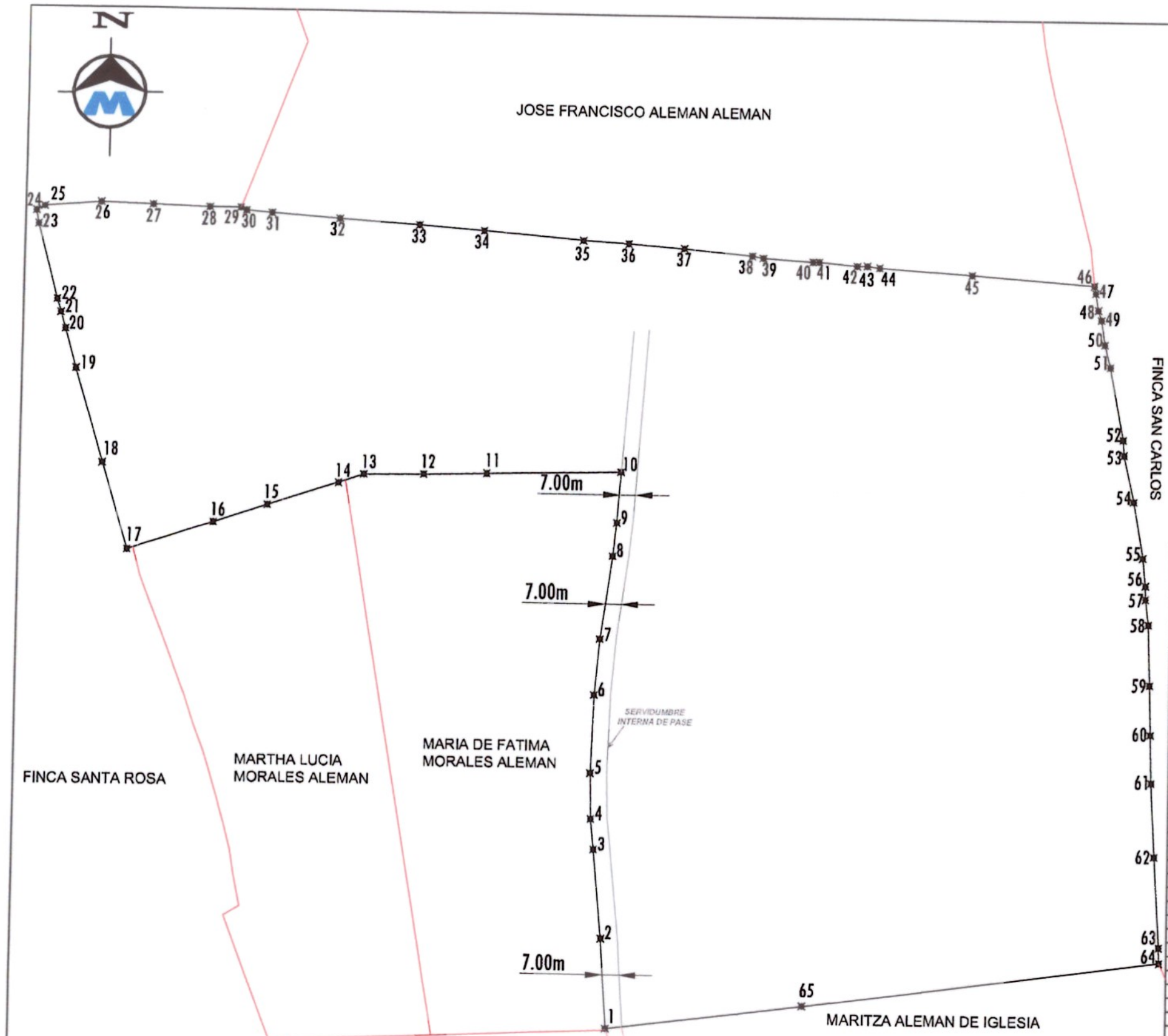


## MUNICIPIO DE GRANADA. DEPARTAMENTO DE GRANADA

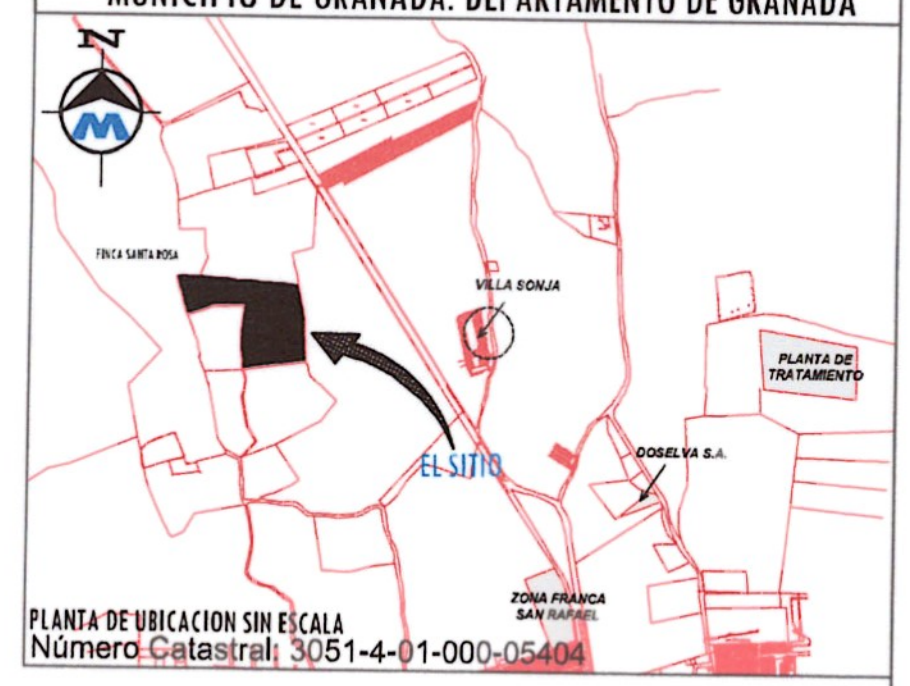


PLANTA DE UBICACION SIN ESCALA
Número Catastral: 3051-4-01-000-05404

## COORDENADAS NO VINCULADAS A LA RED GEODESICA DE NICARAGUA

### CUADRO DE CONSTRUCCION

| LADO EST | LADO PV | RUMBO | DISTANCIA | V | COORDENADAS Y | COORDENADAS X | LADO EST | LADO PV | RUMBO | DISTANCIA | V | COORDENADAS Y | COORDENADAS X |
|---|---|---|---|---|---|---|---|---|---|---|---|---|---|
| | | | | 1 | 1,322,345.6403 | 611,695.3065 | 33 | 34 | S 85°53'16.07" E | 35.797 | 34 | 1,322,775.7374 | 611,621.3642 |
| 1 | 2 | N 03°46'06.27" W | 48.691 | 2 | 1,322,394.2261 | 611,692.1083 | 34 | 35 | S 85°25'55.84" E | 54.842 | 35 | 1,322,771.3698 | 611,676.0323 |
| 2 | 3 | N 05°33'13.11" W | 48.470 | 3 | 1,322,442.4691 | 611,687.4155 | 35 | 36 | S 86°51'51.27" E | 24.667 | 36 | 1,322,770.0205 | 611,700.6821 |
| 3 | 4 | N 05°58'25.19" W | 16.405 | 4 | 1,322,458.7850 | 611,685.7082 | 36 | 37 | S 85°53'32.87" E | 30.630 | 37 | 1,322,767.8265 | 611,731.2132 |
| 4 | 5 | N 01°41'18.67" W | 24.727 | 5 | 1,322,483.5011 | 611,684.9796 | 37 | 38 | S 85°02'24.77" E | 37.762 | 38 | 1,322,764.5618 | 611,768.8336 |
| 5 | 6 | N 01°56'35.83" E | 42.413 | 6 | 1,322,525.8896 | 611,686.4178 | 38 | 39 | S 79°53'02.89" E | 6.139 | 39 | 1,322,763.4835 | 611,774.8771 |
| 6 | 7 | N 04°52'38.81" E | 30.396 | 7 | 1,322,556.1752 | 611,689.0022 | 39 | 40 | S 86°16'12.38" E | 27.101 | 40 | 1,322,761.7205 | 611,801.9210 |
| 7 | 8 | N 07°43'51.15" E | 45.199 | 8 | 1,322,600.9530 | 611,695.0823 | 40 | 41 | N 89°34'14.56" E | 3.514 | 41 | 1,322,761.7468 | 611,805.4345 |
| 8 | 9 | N 06°12'38.82" E | 18.195 | 9 | 1,322,619.0314 | 611,697.0508 | 41 | 42 | S 84°54'28.88" E | 20.966 | 42 | 1,322,759.8860 | 611,826.3176 |
| 9 | 10 | N 03°49'00.92" E | 27.568 | 10 | 1,322,646.5585 | 611,698.8860 | 42 | 43 | N 88°18'28.79" E | 5.528 | 43 | 1,322,760.0492 | 611,831.8435 |
| 10 | 11 | S 88°28'55.64" W | 73.410 | 11 | 1,322,644.6141 | 611,625.5021 | 43 | 44 | S 83°23'37.28" E | 6.779 | 44 | 1,322,759.2694 | 611,838.5772 |
| 11 | 12 | S 88°31'46.66" W | 34.799 | 12 | 1,322,643.7211 | 611,590.7143 | 44 | 45 | S 86°12'00.54" E | 51.021 | 45 | 1,322,755.8881 | 611,889.4865 |
| 12 | 13 | S 88°47'49.70" W | 32.684 | 13 | 1,322,643.0350 | 611,556.0379 | 45 | 46 | S 85°46'07.30" E | 56.977 | 46 | 1,322,750.9463 | 611,956.2810 |
| 13 | 14 | S 71°12'20.47" W | 14.487 | 14 | 1,322,638.3741 | 611,544.3419 | 46 | 47 | S 12°35'38.14" E | 4.123 | 47 | 1,322,746.9230 | 611,957.1799 |
| 14 | 15 | S 72°00'17.19" W | 40.933 | 15 | 1,322,625.7283 | 611,505.4112 | 47 | 48 | S 09°17'41.05" E | 9.367 | 48 | 1,322,737.6785 | 611,958.6928 |
| 15 | 16 | S 71°43'21.71" W | 31.220 | 16 | 1,322,615.9372 | 611,475.7664 | 48 | 49 | S 19°43'23.71" E | 5.652 | 49 | 1,322,732.3565 | 611,960.6001 |
| 16 | 17 | S 71°41'23.38" W | 49.084 | 17 | 1,322,600.5170 | 611,429.1676 | 49 | 50 | S 08°42'25.98" E | 13.334 | 50 | 1,322,719.1779 | 611,962.6187 |
| 17 | 18 | N 17°16'39.54" W | 48.979 | 18 | 1,322,647.2859 | 611,414.6207 | 50 | 51 | S 14°38'28.88" E | 12.574 | 51 | 1,322,707.0118 | 611,965.7970 |
| 18 | 19 | N 16°45'56.54" W | 53.151 | 19 | 1,322,698.1780 | 611,399.2888 | 51 | 52 | S 11°14'21.85" E | 39.990 | 52 | 1,322,667.7886 | 611,973.5915 |
| 19 | 20 | N 16°10'35.43" W | 22.129 | 20 | 1,322,719.4307 | 611,393.1237 | 52 | 53 | S 03°55'53.65" E | 8.219 | 53 | 1,322,659.5891 | 611,974.1580 |
| 20 | 21 | N 16°33'01.78" W | 9.130 | 21 | 1,322,728.1827 | 611,390.5229 | 53 | 54 | S 12°48'31.66" E | 25.747 | 54 | 1,322,634.4830 | 611,979.8630 |
| 21 | 22 | N 17°41'32.65" W | 7.505 | 22 | 1,322,735.3329 | 611,388.2420 | 54 | 55 | S 10°10'35.58" E | 30.830 | 55 | 1,322,604.1385 | 611,985.3100 |
| 22 | 23 | N 19°05'57.62" W | 42.067 | 23 | 1,322,775.9479 | 611,377.2837 | 55 | 56 | S 06°21'46.95" E | 15.211 | 56 | 1,322,589.0213 | 611,986.9958 |
| 23 | 24 | N 10°42'38.73" W | 7.321 | 24 | 1,322,783.1409 | 611,375.9232 | 56 | 57 | S 01°07'04.02" E | 7.116 | 57 | 1,322,581.9066 | 611,987.1348 |
| 24 | 25 | N 62°27'56.08" E | 5.062 | 25 | 1,322,785.4765 | 611,380.4034 | 57 | 58 | S 07°01'14.30" E | 13.869 | 58 | 1,322,568.1413 | 611,988.8298 |
| 25 | 26 | N 85°15'34.60" E | 30.611 | 26 | 1,322,788.0063 | 611,410.9101 | 58 | 59 | S 01°57'15.32" E | 32.810 | 59 | 1,322,535.3500 | 611,989.9487 |
| 26 | 27 | S 88°01'23.56" E | 28.136 | 27 | 1,322,787.0357 | 611,439.0295 | 59 | 60 | S 01°31'53.35" E | 26.635 | 60 | 1,322,508.7241 | 611,990.6606 |
| 27 | 28 | S 88°19'20.95" E | 31.135 | 28 | 1,322,786.1243 | 611,470.1514 | 60 | 61 | S 01°47'47.55" E | 26.287 | 61 | 1,322,482.4502 | 611,991.4847 |
| 28 | 29 | N 89°53'08.29" E | 17.105 | 29 | 1,322,786.1584 | 611,487.2566 | 61 | 62 | S 03°05'13.76" E | 39.875 | 62 | 1,322,442.6334 | 611,993.6321 |
| 29 | 30 | S 87°58'22.43" E | 3.486 | 30 | 1,322,784.8508 | 611,490.4886 | 62 | 63 | S 03°46'08.02" E | 49.110 | 63 | 1,322,393.6294 | 611,996.8503 |
| 30 | 31 | S 84°41'19.27" E | 14.371 | 31 | 1,322,783.5206 | 611,504.7978 | 63 | 64 | S 02°08'40.67" E | 6.361 | 64 | 1,322,385.2544 | 611,997.1739 |
| 31 | 32 | S 85°15'18.07" E | 37.354 | 32 | 1,322,781.0807 | 611,542.0724 | 64 | 65 | S 82°23'09.73" W | 195.093 | 65 | 1,322,359.2725 | 611,802.8099 |
| 32 | 33 | S 86°21'19.31" E | 43.676 | 33 | 1,322,778.3044 | 611,585.6596 | 65 | 1 | S 82°46'22.99" W | 108.364 | 1 | 1,322,345.6403 | 611,695.3065 |

**SUPERFICIE = 159,396.834 m2 = 15.94 Ha = 22.61 Mnz**

El objeto de este plano es para un proceso de Declaratoria de Herederos

| | | |
|---|---|---|
| Objeto: Verificación de área | Número Catastral: 3051-4-01-000-05404 | FIRMA: |
| Propietario: Marina Salvadora Aleman Aleman (q.e.p.d.) Certificado de defunción: Tomo: 10005; Folio: 180; Partida: 180. Conocida registralmente como Marina Salvadora del Socorro Aleman Aleman de Morales | Ubicación: Cmca El Fortin, Costado Este de Hacienda Santa Rosa. Municipio de Granada. Dpto Granada. | Ejecuta: Ing.Bosco Javier Morgan<br>Lic. Catastral: BMM100426<br>Cel: 8883-7568 Email: ingmorgan73@gmail.com<br>www.morganconstrucciones.com |
| Solicitantes: Indicado | Área: 159,396.834 m2 = 15.94 Ha = 22.61 Mnz — Escala: 1: 3,300 | Fecha: 06 de Febrero del 2026 |

Solicitantes:
Maria de Fatima Morales Aleman; Ced: 201-230269-0000J
Martha Lucia Morales Aleman; Ced: 201-030570-0007M

Objeto: Verificación de área
Número Catastral: 3051-4-01-000-05404

## COORDENADAS NO VINCULADAS A LA RED GEODESICA DE NICARAGUA

### CUADRO DE CONSTRUCCION

| LADO EST | LADO PV | RUMBO | DISTANCIA | V | COORDENADAS Y | COORDENADAS X |
|---|---|---|---|---|---|---|
| | | | | 1 | 1,322,345.6403 | 611,695.3065 |
| 1 | 2 | N 03°46'06.27" W | 48.691 | 2 | 1,322,394.2261 | 611,692.1063 |
| 2 | 3 | N 05°33'13.11" W | 48.470 | 3 | 1,322,442.4691 | 611,687.4155 |
| 3 | 4 | N 05°58'25.19" W | 16.405 | 4 | 1,322,458.7850 | 611,685.7082 |
| 4 | 5 | N 01°41'18.67" W | 24.727 | 5 | 1,322,483.5011 | 611,684.9796 |
| 5 | 6 | N 01°56'35.83" E | 42.413 | 6 | 1,322,525.8896 | 611,686.4178 |
| 6 | 7 | N 04°52'38.81" E | 30.396 | 7 | 1,322,556.1752 | 611,689.0022 |
| 7 | 8 | N 07°43'51.15" E | 45.199 | 8 | 1,322,600.9630 | 611,695.0823 |
| 8 | 9 | N 06°12'38.82" E | 18.195 | 9 | 1,322,619.0514 | 611,697.0508 |
| 9 | 10 | N 03°49'00.92" E | 27.568 | 10 | 1,322,646.5586 | 611,698.8860 |
| 10 | 11 | S 88°28'55.64" W | 73.410 | 11 | 1,322,644.6141 | 611,625.5021 |
| 11 | 12 | S 88°31'46.66" W | 34.799 | 12 | 1,322,643.7211 | 611,590.7143 |
| 12 | 13 | S 88°47'49.70" W | 32.684 | 13 | 1,322,643.0350 | 611,558.0379 |
| 13 | 14 | S 71°12'20.47" W | 14.467 | 14 | 1,322,638.3741 | 611,544.3419 |
| 14 | 15 | S 72°00'17.19" W | 40.933 | 15 | 1,322,625.7283 | 611,505.4112 |
| 15 | 16 | S 71°43'21.71" W | 31.220 | 16 | 1,322,615.9372 | 611,475.7664 |
| 16 | 17 | S 71°41'23.38" W | 49.084 | 17 | 1,322,600.5170 | 611,429.1676 |
| 17 | 18 | N 17°16'39.54" W | 48.979 | 18 | 1,322,647.2859 | 611,414.6207 |
| 18 | 19 | N 16°45'56.54" W | 53.151 | 19 | 1,322,698.1780 | 611,399.2888 |
| 19 | 20 | N 16°10'35.43" W | 22.129 | 20 | 1,322,719.4307 | 611,393.1237 |
| 20 | 21 | N 16°33'01.78" W | 9.130 | 21 | 1,322,728.1827 | 611,390.5229 |
| 21 | 22 | N 17°41'32.65" W | 7.505 | 22 | 1,322,735.3329 | 611,388.2420 |
| 22 | 23 | N 15°05'57.62" W | 42.067 | 23 | 1,322,775.9479 | 611,377.2837 |
| 23 | 24 | N 10°42'38.73" W | 7.321 | 24 | 1,322,783.1409 | 611,375.9232 |
| 24 | 25 | N 62°27'56.05" E | 5.052 | 25 | 1,322,785.4765 | 611,380.4034 |
| 25 | 26 | N 85°15'34.60" E | 30.611 | 26 | 1,322,788.0063 | 611,410.9101 |
| 26 | 27 | S 88°01'23.56" E | 28.136 | 27 | 1,322,787.0357 | 611,439.0295 |
| 27 | 28 | S 86°19'20.95" E | 31.135 | 28 | 1,322,786.1243 | 611,470.1514 |
| 28 | 29 | N 89°53'08.29" E | 17.105 | 29 | 1,322,786.1584 | 611,487.2566 |
| 29 | 30 | S 67°58'22.43" E | 3.486 | 30 | 1,322,784.8508 | 611,490.4886 |
| 30 | 31 | S 84°41'19.27" E | 14.371 | 31 | 1,322,783.5206 | 611,504.7978 |
| 31 | 32 | S 86°15'18.07" E | 37.354 | 32 | 1,322,781.0807 | 611,542.0724 |
| 32 | 33 | S 86°21'19.31" E | 43.676 | 33 | 1,322,778.3044 | 611,585.6596 |

| LADO EST | LADO PV | RUMBO | DISTANCIA | V | COORDENADAS Y | COORDENADAS X |
|---|---|---|---|---|---|---|
| 33 | 34 | S 85°53'16.07" E | 35.797 | 34 | 1,322,775.7374 | 611,621.3642 |
| 34 | 35 | S 85°25'55.84" E | 54.842 | 35 | 1,322,771.3698 | 611,676.0323 |
| 35 | 36 | S 86°51'51.27" E | 24.667 | 36 | 1,322,770.0205 | 611,700.6621 |
| 36 | 37 | S 85°53'32.87" E | 30.630 | 37 | 1,322,767.8265 | 611,731.2132 |
| 37 | 38 | S 85°02'24.77" E | 37.762 | 38 | 1,322,764.5618 | 611,768.8336 |
| 38 | 39 | S 79°53'02.89" E | 6.139 | 39 | 1,322,763.4835 | 611,774.8771 |
| 39 | 40 | S 86°16'12.38" E | 27.101 | 40 | 1,322,761.7205 | 611,801.9210 |
| 40 | 41 | N 89°34'14.56" E | 3.514 | 41 | 1,322,761.7468 | 611,805.4345 |
| 41 | 42 | S 84°54'28.88" E | 20.966 | 42 | 1,322,759.8860 | 611,826.3176 |
| 42 | 43 | N 88°18'28.79" E | 5.528 | 43 | 1,322,760.0492 | 611,831.8435 |
| 43 | 44 | S 83°23'37.28" E | 6.779 | 44 | 1,322,759.2694 | 611,838.5772 |
| 44 | 45 | S 86°12'00.54" E | 51.021 | 45 | 1,322,755.8881 | 611,889.4865 |
| 45 | 46 | S 85°46'07.30" E | 66.977 | 46 | 1,322,750.9483 | 611,956.2810 |
| 46 | 47 | S 12°35'36.14" E | 4.123 | 47 | 1,322,746.9230 | 611,957.1799 |
| 47 | 48 | S 09°17'41.05" E | 9.367 | 48 | 1,322,737.6785 | 611,958.6928 |
| 48 | 49 | S 19°43'23.71" E | 5.652 | 49 | 1,322,732.3585 | 611,960.6001 |
| 49 | 50 | S 08°42'25.98" E | 13.334 | 50 | 1,322,719.1779 | 611,962.6187 |
| 50 | 51 | S 14°38'26.88" E | 12.574 | 51 | 1,322,707.0118 | 611,965.7970 |
| 51 | 52 | S 11°14'21.85" E | 39.990 | 52 | 1,322,667.7886 | 611,973.5915 |
| 52 | 53 | S 03°55'53.65" E | 8.219 | 53 | 1,322,659.5891 | 611,974.1550 |
| 53 | 54 | S 12°48'31.66" E | 25.747 | 54 | 1,322,634.4830 | 611,979.8630 |
| 54 | 55 | S 10°10'35.58" E | 30.830 | 55 | 1,322,604.1385 | 611,985.3100 |
| 55 | 56 | S 06°21'48.95" E | 15.211 | 56 | 1,322,589.0213 | 611,986.9958 |
| 56 | 57 | S 01°07'04.02" E | 7.116 | 57 | 1,322,581.9066 | 611,987.1346 |
| 57 | 58 | S 07°01'14.30" E | 13.869 | 58 | 1,322,568.1413 | 611,988.8298 |
| 58 | 59 | S 01°57'15.32" E | 32.810 | 59 | 1,322,535.3500 | 611,989.9487 |
| 59 | 60 | S 01°31'53.35" E | 26.635 | 60 | 1,322,508.7241 | 611,990.6606 |
| 60 | 61 | S 01°47'47.55" E | 26.287 | 61 | 1,322,482.4502 | 611,991.4847 |
| 61 | 62 | S 03°05'13.76" E | 39.875 | 62 | 1,322,442.6334 | 611,993.6321 |
| 62 | 63 | S 03°46'08.02" E | 49.110 | 63 | 1,322,393.6294 | 611,996.6603 |
| 63 | 64 | S 02°08'40.67" E | 8.381 | 64 | 1,322,385.2544 | 611,997.1739 |
| 64 | 65 | S 82°23'09.73" W | 196.093 | 65 | 1,322,359.2725 | 611,802.8099 |
| 65 | 1 | S 82°46'22.99" W | 108.384 | 1 | 1,322,345.6403 | 611,695.3065 |

**SUPERFICIE = 159,396.834 m2 = 15.94 Ha = 22.61 Mnz**

Ejecuta: Ing.Bosco Javier Morgan
Lic. Catastral: BMM100426
Cel: 8883-7568 Email: ingmorgan73@gmail.com
www.morganconstrucciones.com